




Orienteering map






















Garching

Scale: 1 : 4,000
Contours: 2.5 m
Standing: May 2013
Cartography: Thomas Schöps

Special Signatures

-  Construction area, forbidden access!
-  Street / asphalt, with / without traffic
-  Big signs, playground items, etc.

Legend

-  Building; Canopy
-  Street / asphalt, with / without traffic
-  Private/flowerbed, forbidden access!
-  Meadow; Meadow with trees; Forest
-  Light; strong thicket
-  Thicket, impassable
-  Tree; Special tree
-  Path; Track; Stairs
-  Fence, forbidden to pass!
-  Fence, passable
-  Wall, forbidden to pass!
-  Small wall, passable
-  Hedge, forbidden to pass!
-  Light; strong undergrowth
-  Hedges, passable
-  Countours; Hill
-  Rough/semi-open area
-  Sandy ground
-  Cultivation boundary; Step
-  Stone; Rock face
-  Well; Small erosion gully



Orienteering in ...

Munich: www.ol-gruenwald.de
Landshut and Freising: www.ol-landshut.de



Organizer, host, mapper,
 land owners and administration
 do not assume any liability!